Title: Image Processing Framework for Eclipse Shadow Band Analysis

Authors: Joseph P. Conti[1]*

Affiliations:

[1]Independent Researcher

*Corresponding author. Email: jconti@alum.mit.edu

Abstract: Eclipse shadow bands are transient intensity patterns that can appear on the ground near solar eclipse totality. This study presents a reusable image-processing framework for analyzing shadow-band video recordings collected with consumer grade cameras. The framework quantifies band orientation, band prominence, and band power spectrum density from video recordings. Applied to two eclipse datasets, the method detected statistically significant shadow-band activity during eclipse windows that align with the scintillation theory for shadow bands. The results also highlight simultaneous superimposed eclipse shadow band modes with orthogonal orientations. This demonstrates that consumer grade cameras can support quantitative analysis of shadow bands and may help future observational and atmospheric studies.

1. Introduction

Eclipse shadow bands are faint lines that sometimes appear on the ground immediately before and after eclipse totality. These bands are usually aligned roughly perpendicular to the path of the eclipse shadow, moving with a definite speed and sometimes changing orientation or intensity as totality approaches or recedes. Shadow bands are typically observed within the minutes prior to second contact (C2), when the Moon fully obscures the Sun, and the minutes immediately after third contact (C3), when the Sun begins to reappear from behind the Moon. These bands are best observed visually on a flat white surface when atmospheric conditions are calm and clear with little to no cloudiness. With observations dating back to the year 1842 *(1)*, the eclipse shadow band phenomenon is widely accepted to be the result of sunlight passing through small-scale refractive variations in Earth's atmosphere when the visible solar disk is reduced to a narrow crescent by the Moon *(2,3,4,5,6,7)*.

Previous studies have analyzed the power spectra and spatial correlations of photodiode measurements, confirming intensity fluctuations immediately before C2 and after C3 consistent with atmospheric scintillation acting on the narrow solar crescent. The evolution of band spacing has been measured from approximately 30 cm to 10 cm *(8)* and band velocities ranging from 1 to 50 m/s have been measured consistent with typical atmospheric wind speeds *(9)*. Observations along different points of the eclipse center line during the same event show that shadow band orientation can vary between locations *(10)* further supporting an atmospheric origin. The influence of low-level atmospheric conditions has also been investigated using balloon-based measurements. In one study, photodiodes deployed on a balloon at approximately 25 km altitude detected a 4.5 Hz signal *(11).* However, a follow-up study in 2024 using improved instrumentation did not reproduce this 4.5 Hz signal *(12).* Modeling eclipse shadow bands using a wave optics approach have studied how different layers of the atmosphere contribute to shadow band effects *(13).*

The main contributions of this study are as follows:

- Publicly available reusable and reproducible low-cost image-processing framework for analyzing eclipse shadow bands from ground-based consumer grade video.
- To our knowledge, this is the first use of an Orientation Distribution Function and Orientation-Prominence Metric for identifying dominant and secondary band modes.
- To our knowledge, this is the first quantitative detection of simultaneous orthogonal mode and detection of rotating shadow bands from a single observation point.

2. Materials and Methods

2.1 Experimental Setup

A large white sheet approximately 1 meter square is placed on the ground with a digital camera on a static stable stand pointing directly at the white sheet. For the North America dataset, an iPhone 13 camera with default settings was used to record video. The recorded video was then exported for analysis.

2.2 Method

The framework described in this study was conducted in the MATLAB programming language and is available for reuse (14). The framework begins by loading a sliding window block of images, b, from the video recording. The block size should be sufficient to avoid aliasing effects when extracting shadow bands. In this study, a block size of 3 was selected.

$$b = \frac{f_{video}}{2 * f_{bands}} > 1$$

Color and Spatial Transformation

Images are converted to grayscale *(16)* and then transformed *(17)* to a two-dimensional view from the original three-dimensional camera perspective to ensure spatial consistency. The MATLAB Image Processing Toolbox function FITGEOFORM2D was used to generate the transformation matrix from the pixel location of four corners representing a physical rectangle within the white sheet experimental setup. The MATLAB Image Processing Toolbox function IMWARP was then used for applying the transformation to the image.

Temporal Normalization

Temporal intensity normalization is applied to correct for ambient light variations that occur during the eclipse.

$$X_i^{baseline} = \text{MEDIAN}(X_i^{norm}, X_{i+1}^{norm}, \dots, X_{i+b-1}^{norm})$$

where:

- X_i^{norm} is a matrix representing an image with normalized intensity
- MEDIAN() is a matrix values function that calculates the pixel wise median from a set of images and outputs a matrix
- $X_i^{baseline}$ is a matrix representing element wise median over a block of images

Image Differencing

Image differencing is then calculated to extract shadow bands followed by Gaussian smoothing with a block size parameter of 15 pixels *(18).* The scintillation index, the normalized variance of the measured intensity, is then calculated from the resulting smoothed image *(19).*

$$X_i^{diff} = X_i^{norm} - X_i^{baseline}$$

$$X_i^{smooth} = \mathrm{SMOOTH}(X_i^{diff})$$

$$\sigma_i^2 = \frac{\langle {X_i^{smooth}}^2 \rangle - \langle X_i^{smooth} \rangle^2}{\langle X_i^{smooth} \rangle^2}$$

where:

- X_i^{diff} is a matrix representing the result of image differencing
- SMOOTH() is a matrix valued function that calculates the Gaussian smoothing for an image
- X_i^{smooth} is a matrix representing the result of image smoothing
- σ_i^2 is a scalar representing the scintillation index for the image

Orientation Distribution Function

Edge segmentation *(20,21)* with a threshold parameter of .1 and a standard deviation filter parameter of 30 is then performed to extract primary geometry. Line segments are extracted *(22,23)* and an Orientation Distribution Function (ODF) is calculated from the histogram of edge orientations with a bin size of 2 degrees. ODFs are commonly used in other scientific domains to measure orientations within a 2-D image including astronomy, biology, medical imaging and quantum physics *(24,25,26,27,28,29).* The ODF is fitted with a two-term Gaussian model to measure the Signal to Noise (SNR) ratio of primary and secondary band modes. Having two terms ensures that any primary and secondary band orientation modes are measurable. A third term, fourth term, etc. could also be used to detect additional shadow band modes but were not in this analysis.

$$\Theta_i = \{\, \theta_1, \theta_2, \dots, \theta_M \} \in S_i$$

$$ODF_i(\theta) = \theta \in [0,180°)$$

$$ODF_{fit}(\theta, i) = a_{1,i} * \exp\left(-\left(\frac{\theta - \theta_{1,i}}{c_{1,i}}\right)^2\right) + a_{2,i} * \exp\left(-\left(\frac{\theta - \theta_{2,i}}{c_{2,i}}\right)^2\right) + d_i$$

where:

- θ is a scalar representing the orientation of each line segment
- Θ_i is the set of orientation values within S_i at image frame index i
- $ODF_i(\theta)$ is the frequency distribution of orientations ranging from $0° \; to \; 180°$ with a bin size of 2° at image frame index i
- $ODF_{fit}(\theta, i)$ is the fitted function for values of h_k as a function of θ for the image at index i

Orientation Prominence Metric

A dimensionless Orientation Prominence Metric (OPM) is calculated from the ODF_{fit} that corresponds to the signal to noise ratio (SNR) for the two terms of the gaussian fit. The OPM serves as a metric for the intensity of band elongation across one or more modes and will be compared to the control groups to determine if band orientation is significant for each image frame.

$$OPM_{1,i} = \frac{a_{1,i}}{c_{1,i}}$$

$$OPM_{2,i} = \frac{a_{2,i}}{c_{2,i}}$$

where:

- $OPM_{1,i}$, $OPM_{2,i}$ are the primary and secondary orientation prominence metrics for the image frame at index i.

Power Spectral Density

A spatial Power spectral density (PSD) is calculated by calculating the image intensity profile along a direction orthogonal to $\theta_{1,i}$ and calculating the spatial Fourier transform. To reduce noise, a PSD sample from the control period is subtracted.

$$X_{1,i}^{rotatedsmooth} = rotate(X_i^{smooth}, \theta_{1,i})$$

$$\mathrm{P}_{1,\mathrm{i}} = FFT\left(X_{1,i}^{rotatedsmooth}\right)$$

where:

- $X_{1,i}^{rotatedsmooth}$ is the rotated image frame at index i
- $\mathrm{P}_{1,i}$ is the power along a range of spatial frequencies

Statistical Rigor and Assumptions

A paired sample one-sided t-test is used to determine if the primary and secondary OPM thresholds for an image frame exceed the control group at the 5 sigma (p=3e-7) significance level. Because consecutive video frames are temporally correlated, the effective number of

independent samples is reduced. To mitigate this, results were verified under temporal subsampling (e.g., every Nth frame), yielding consistent significance trends. Given the large number of frames evaluated, the 5σ threshold is intended as a conservative bound to limit false positives under multiple comparisons. The one-sided t-test is chosen since we are only interested in values that exceed a particular threshold. The control group selected is the portion of the video dataset between C2 and before C3 during totality where no shadow bands are expected to be present. This assumption is consistent with prior studies indicating that shadow bands arise from scintillation of a partially obscured solar crescent and are absent when the solar disk is fully obscured. This control group offers a consistent means to account for any experimental or system error. A better control group would be video recording before C1 or after C4, but unfortunately, that data was not available in either data set.

Results: 2019 South America Eclipse

The first experimental dataset analyzed in this study was recorded by Pauwels *(15)* on July 2, 2019, during the solar eclipse that traversed South America. The measurement site was located at −30.1768° N, −69.0984° W near Rodeo, Argentina, along the eclipse center line. A white sheet was mounted on a board and positioned so that its surface normal was oriented approximately toward the Sun. Totality occurred at approximately 4:39 pm local time, near sunset. Video recording began several minutes before C2 and continued until approximately10 minutes after C3. Fig. 1 shows the raw image, results of image differencing, edge segmentation, ODF calculation, and band locations at selected time points during the recording. Time is reported relative to totality, with t = 0 s defined as the midpoint between C2 and C3. At t = 70 s, approximately 2 s before C2, shadow bands are clearly visible, as indicated by a pronounced ODF peak at 78°, where θ = 0° corresponds to the positive x-axis of the transformed image and θ = 90° corresponds to the positive y-axis. At t = 0 s, when the Moon fully obscures the Sun, the ODF is flat, indicating no dominant shadow band orientation. At t = −70 s, approximately 2 s after C3, the ODF shows a strong peak near 30°. At t = −102 s, secondary shadow band modes appear at θ = 170°, offset from the primary bands at θ = 40°. A grid-like pattern is visually apparent, indicating the presence of multiple band orientation modes.

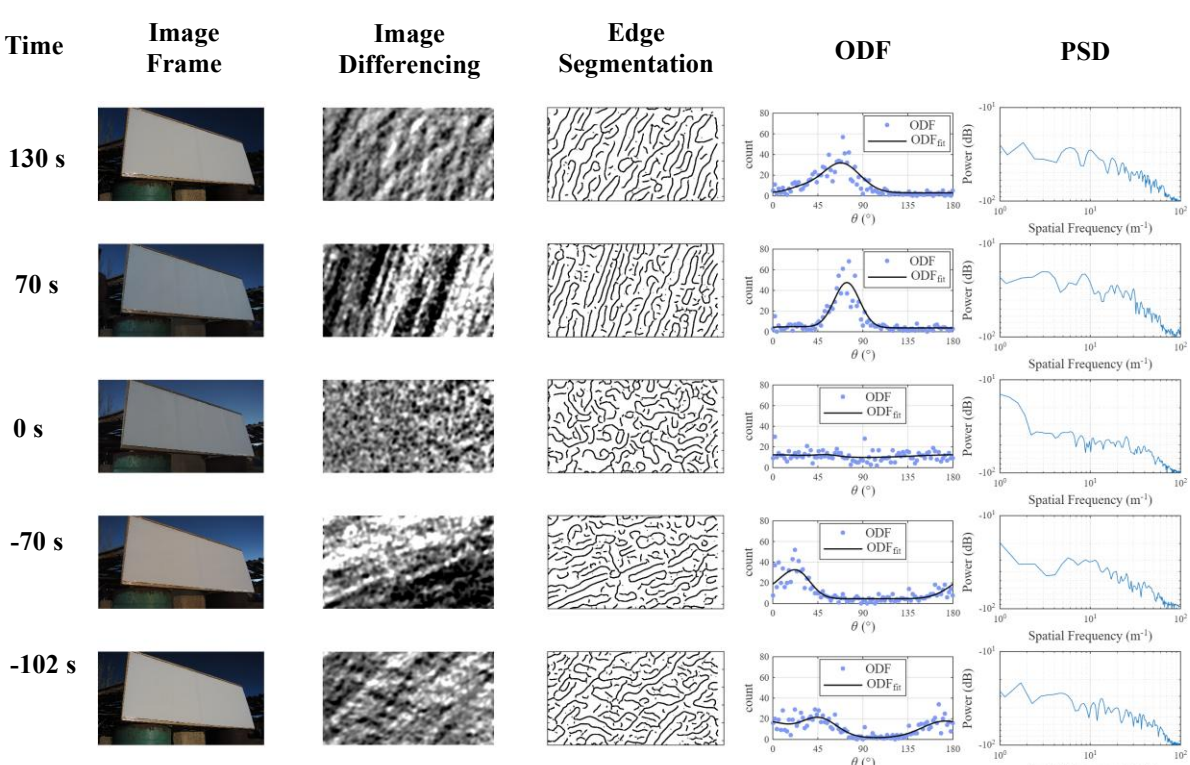

Fig. 1. Image processing framework applied to the South American eclipse video data. The orientation of the primary shadow bands rotates by approximately 50° between t = 70 s and t = −70 s. At t = −102 s, simultaneous primary and secondary shadow band modes are significant.

Fig. 2 presents a composite time-series view from the South American eclipse dataset. Gaps at selected points in the time-series plots result from transient measurement errors caused by an individual walking in front of the white sheet during the experiment. The control group used to assess statistical significance consists of data collected between C2 and C3. As C2 approaches, both the scintillation index and the primary Orientation Prominence Metric (OPM_1) become statistically significant. Following C3, both metrics decrease toward baseline levels. At t = −102 s, the secondary Orientation Prominence Metric (OPM_2) becomes significant. Fig. 3 displays the result of image differencing at t = -102 s when primary and secondary band modes exist simultaneously and are visually apparent. A temporary transient increase in both the scintillation index and OPM_1 is observed at approximately t = −400 s, well after C3. A spectrogram of time-series PSD values shows a substantial increase in spatial band frequency leading up to C2 and a subsequent decline after C3.

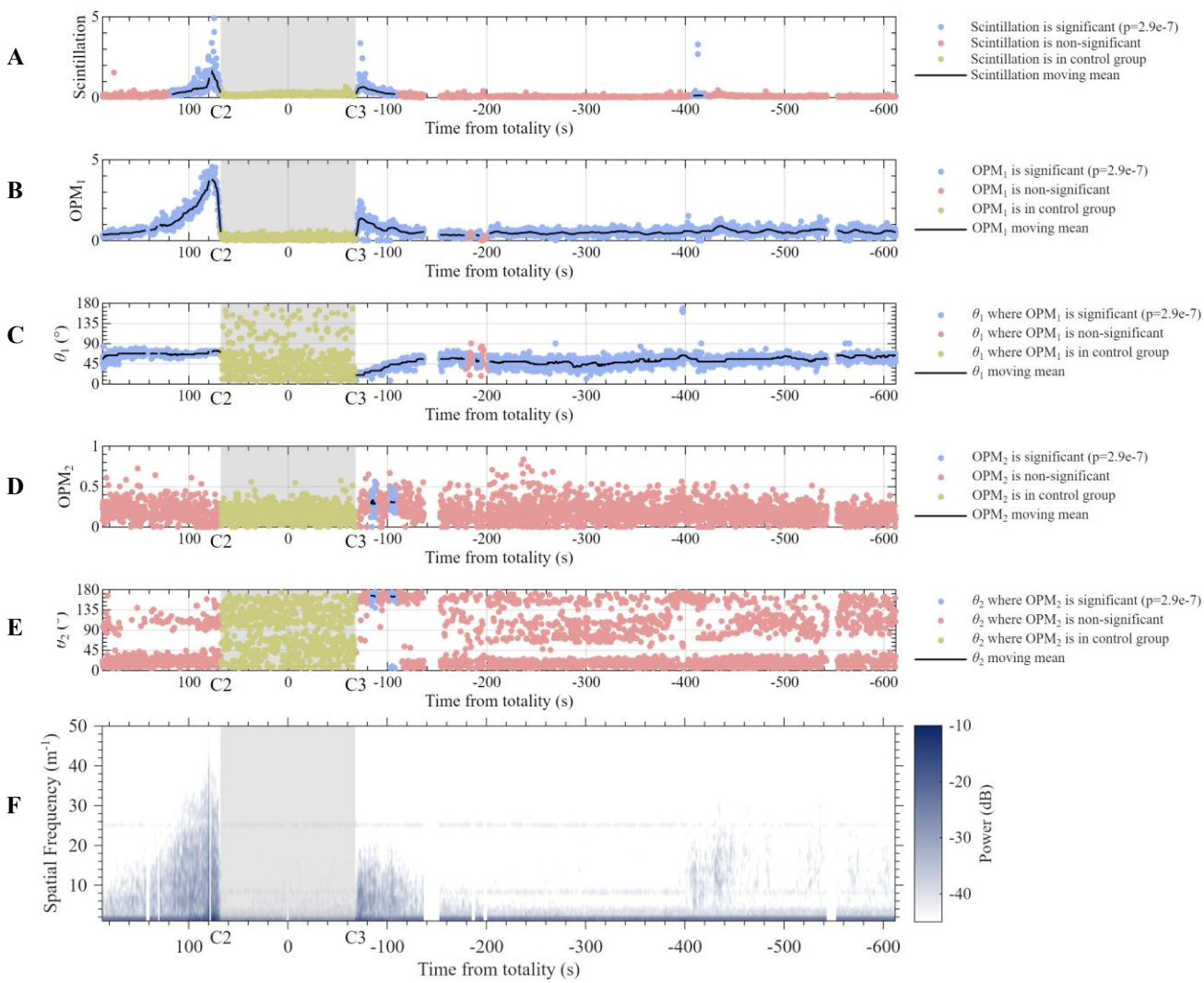

Fig. 2. Time series data for the South America data set. Scintillation index (A) and primary orientation prominence (B) become significant at an orientation ranging in the seconds leading up to C2 and after C3. At t = −102 s, simultaneous secondary shadow band modes (D) are significant at approximately 170° (E). The PSD spectrogram (F) shows an increase in higher spatial frequencies leading up to C2 and declining after C3.



Fig. 3. Image of simultaneous orthogonal shadow bands. This image is the result of image differencing for the South American data set at t=-102 s.

Results: 2023 North America Eclipse

The second experimental dataset was recorded on April 8, 2024, during the solar eclipse that passed over North America. An iPhone 13 camera was mounted on a short stand above a white sheet measuring approximately 0.9 m². The measurement location was 45.2711° N, 72.1639° W in Magog, Canada, along the eclipse center line. The white sheet was oriented toward the northeast, with its principal axis measured at +30° relative to geographic north. Video recording was manually initiated approximately 90 seconds before C2. Fig. 4 presents the results of image differencing, edge segmentation, ODF analysis, and band locations for the North America eclipse dataset at selected time points. At t = 140 s, no bands are present and the ODF is flat, indicating no dominant shadow band orientation. At t = 120 s and t = 110 s, the ODF exhibits a peak at approximately θ = 163°, and the bands are significant relative to the control group, where θ = 0° corresponds to the positive x-axis of the transformed image and θ = 90° to the positive y-axis. At t = 100 s, after C2 has passed, the ODF returns to a flat distribution, and no primary bands are detected.

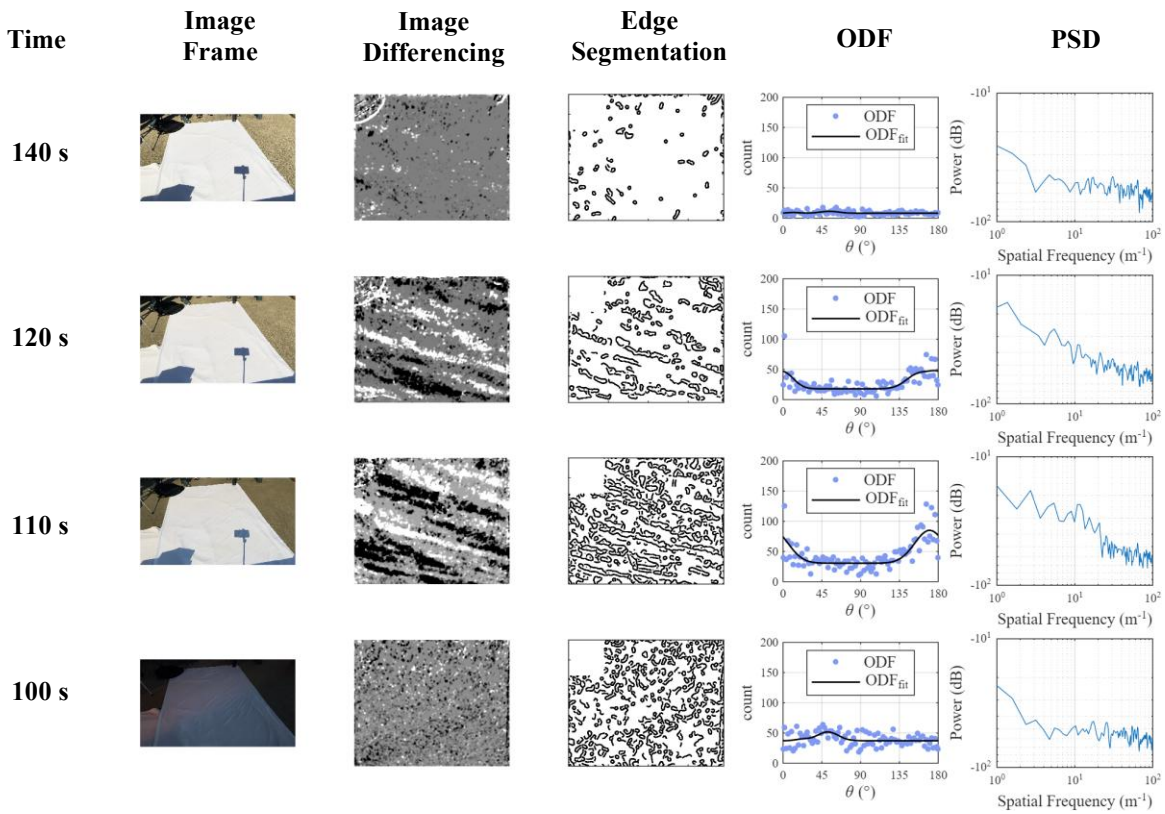

Fig 4. Image processing framework applied to the North American eclipse video data. At t=120s and 110s, primary shadow bands at an orientation of approximately θ=163° are significant

Fig. 5 presents a composite time-history view of the North American eclipse dataset. Gaps at selected points in the time-series plots result from transient measurement errors caused by an individual walking in front of the white sheet during the experiment. The square region in the upper-left corner of the edge-segmentation images masks a laptop bag that was inadvertently left on one corner of the sheet, preventing it from introducing bias into the ODF calculation.
The control group used to assess statistical significance consists of data collected after C2 and before C3 where no shadow bands are expected to be present. As C2 approaches, both the scintillation index and the primary Orientation Prominence Metric (OPM_1) become statistically significant. Unfortunately, no data was available after C3 because the recording stopped prematurely. A spectrogram of time-series PSD values shows a substantial increase in spatial band frequency leading up to C2.

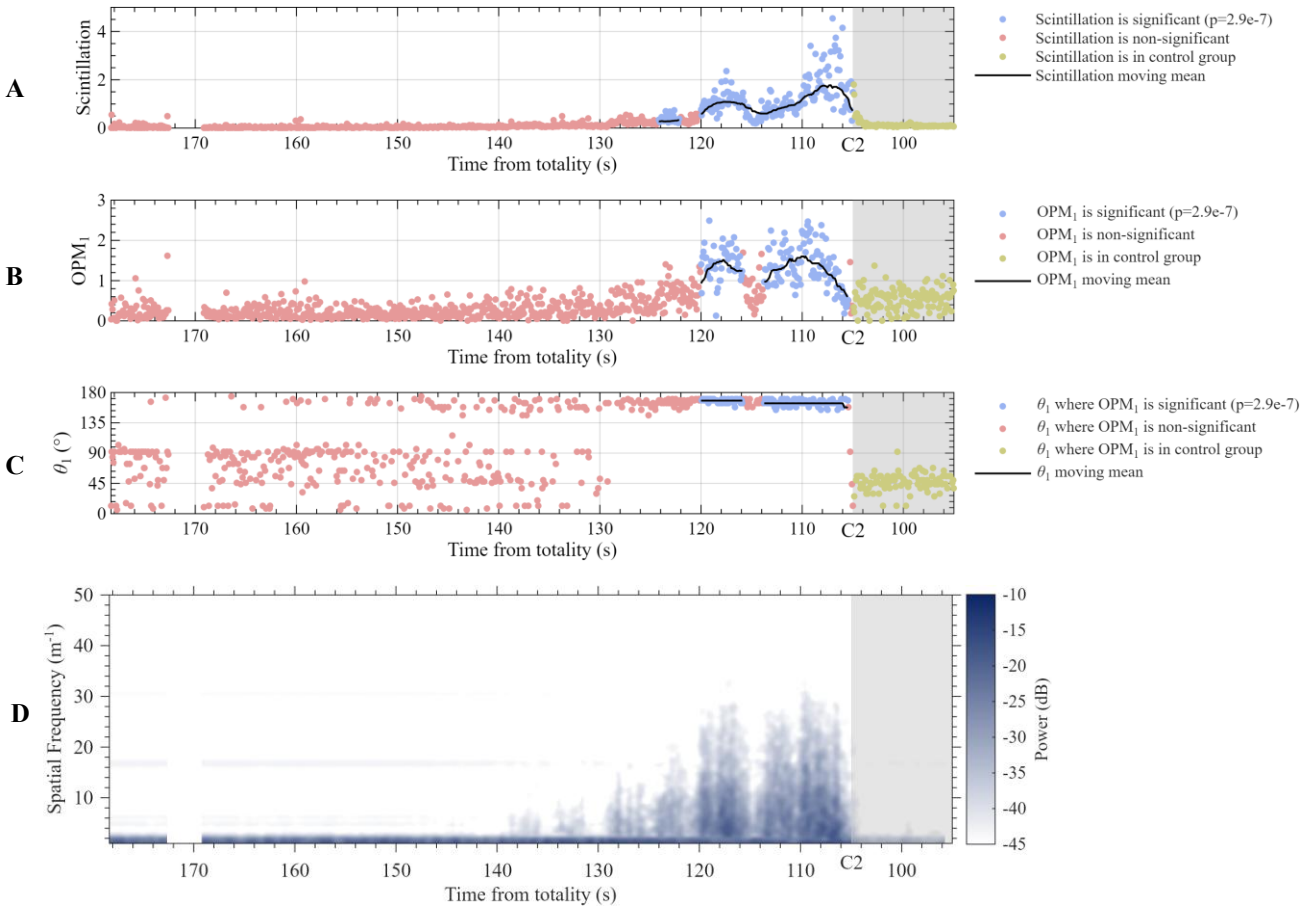

Fig. 5. Time series data for the North America data set. Scintillation index (A) and primary orientation prominence (B) become significant at an orientation ranging in the seconds leading up to C2. The PSD spectrogram (D) shows an increase in higher spatial frequencies leading up to C2.

Discussion

The image-processing framework presented in this study provides a quantitative method for measuring eclipse shadow band orientation, prominence, location, and spatial frequency using readily obtainable ground-based video recordings. Consistent with prior research, the scintillation index increases significantly in the seconds leading up to C2 and decreases after C3 (2,3,4,5,6,7). Using an Orientation Distribution Function (ODF) and an Orientation Prominence Metric (OPM), this study quantitively measures several subtle aspects of the eclipse shadow band phenomenon, providing greater insight into atmospheric scintillation effects.

Spectral Frequency Variation

The PSD spectrogram analysis generally supports Codona's scintillation model in which higher frequencies, under appropriate atmospheric conditions, can increase in power leading up to C2 and subsequently diminish after C3. From an observer, this can create the perception that the bands are becoming closer together leading up to C2. The results from this study clearly show an increase in power for higher spatial frequencies.

Shadow Band Rotation

This study measured that eclipse shadow band orientation can rotate by up to 50° from a single observation location over the course of minutes. This rotation aligns with the original scintillation theory described in Codona's study when the observer is not directly on the eclipse center line.

Orthogonal Shadow Band Modes

This study measured a scenario in which multiple eclipse shadow band modes can exist simultaneously, with orientations and velocities offset by up to 90°. One possible hypothesis is that this effect arises from multiple atmospheric layers contributing to different scintillation modes. A secondary additional hypothesis is that these unique shadow band effects are more likely to occur during eclipses near sunrise or sunset, when light travels through a longer column of atmosphere.

Limitations

This study is based on two eclipse datasets, which limits the statistical generality of the findings. The analysis is sensitive to environmental disturbances, including occlusions and surface artifacts, which required manual mitigation. Additionally, no direct atmospheric measurements (e.g., wind profiles or turbulence structure) were available, limiting the ability to correlate observed band behavior with physical atmospheric conditions. The framework also depends on camera geometry and preprocessing parameter choices, which may introduce variability across datasets. Future work incorporating additional observations and synchronized atmospheric measurements would improve robustness and physical interpretation.

In conclusion, this study demonstrates that consumer-grade video recordings, when analyzed using the proposed methodology, can reveal detailed and dynamic shadow band behavior. These results further support the scintillation theory and enable improved modeling and future observational studies.

References

1. Rotch AL. 1908. The eclipse shadow-bands. *Ann Harv Coll Obs*. 58:217–222.
2. Gaviola E. 1948. On shadow bands at total eclipses of the sun. *Pop Astron*. 56:353.
3. Marschall LA, Mahon R, Henry RC. 1984. Observations of shadow bands at the total solar eclipse of 16 February 1980. *Appl Opt*. 23(23):4390–4393.
4. Codona JL. 1986. The scintillation theory of eclipse shadow bands. *Astron Astrophys*. 164(2):415–427.
5. Jones BW, Jones CAL. 1994. Shadow bands during the total solar eclipse of 11 July 1991. *J Atmos Terr Phys*. 56:1535–1543.
6. Schmiegelow CT, Drechsler M, Filgueira LE, Barreto NA, Meconi F. 2022. Observation of atmospheric scintillation during the 2020 total eclipse in northern Patagonia. *Pap Phys*. 14:140013.

7. Gladysz S, Redfern M, Jones BW. 2005. Shadow bands observed during the total solar eclipse of 4 December 2002 by high-resolution imaging. *J Atmos Solar-Terr Phys*. 67(10):899–906.
8. Strickling W. 2001. Shadow bands during a total solar eclipse [technical report on the internet]. Available from: https://www.strickling.net/shadowbands.htm
9. Jones BW. 1999. Shadow bands during the total solar eclipse of 26 February 1998. *J Atmos Solar-Terr Phys*. 61(13):965–974.
10. Telepun G, Gallagher D, Adams M, Stahl HP. 2019. Qualitative shadow band observations from three sites in the Southeast. In: *Celebrating the 2017 Great American Eclipse: Lessons Learned from the Path of Totality*. Vol. 516. p. 437.
11. Madhani JP, Chu GE, Gomez CV, Bartel S, Clark RJ, Coban LW, Hartman M, Potosky EM, Rao SM, Turnshek DA. 2020. Observation of eclipse shadow bands using high altitude balloon and ground-based photodiode arrays. *J Atmos Solar-Terr Phys*. 211:105420.
12. Turnshek D, et al. 2026. An eclipse-ballooning study of shadow bands during the April 8, 2024 total solar eclipse. *arXiv* preprint arXiv:2601.13335.
13. Zhan H, Voelz DG. 2021. Modeling solar eclipse shadow bands using wave optics simulation through distributed turbulence. *Appl Opt*. 60(27):8426–8434.
14. Conti J. 2025. Eclipse Shadow Band Tool [computer software]. Available from: https://github.com/JoeEngineerPilot/EclipseShadowBandTool
15. Pauwels T. 2019. Flying shadows (shadow bands) at the total solar eclipse of July 2, 2019 [data set]. Royal Observatory of Belgium. Available from: https://www.youtube.com/watch?v=yRV9_xCtny0
16. MathWorks. RGB2GRAY (image processing function) [software documentation]. Available from: https://www.mathworks.com/help/matlab/ref/rgb2gray.html
17. MathWorks. IMWARP (image warp) [software documentation]. Available from: https://www.mathworks.com/help/images/ref/imwarp.html
18. MathWorks. IMGAUSSFILT (Gaussian image filtering) [software documentation]. Available from: https://www.mathworks.com/help/images/ref/imgaussfilt.html
19. Dravins D, Lindegren L, Mezey E, Young AT. 1998. Atmospheric intensity scintillation of stars. I. Statistical distributions and temporal properties. *Publ Astron Soc Pac*. 110(748):610–633.
20. MathWorks. EDGE (edge detection) [software documentation]. Available from: https://www.mathworks.com/help/images/ref/edge.html
21. Canny J. 1986. A computational approach to edge detection. *IEEE Trans Pattern Anal Mach Intell*. 8(6):679–698.
22. MathWorks. BWBOUNDARIES (boundary tracing) [software documentation]. Available from: https://www.mathworks.com/help/images/ref/bwboundaries.html
23. Gonzalez RC, Woods RE, Eddins SL. 2004. *Digital Image Processing Using MATLAB*. Upper Saddle River (NJ): Pearson Education.
24. Hawley DL, Peebles PJ. 1975. Distribution of observed orientations of galaxies. *Astron J*. 80:477–491.

25. Koenderink JJ, van Doorn AJ. 1992. Simple scales in image processing. *Biol Cybern*. 66(4):233–241.
26. Jahne B, Haussecker H, Geissler P. 1999. *Handbook of Computer Vision and Applications. Volume 2: Signal Processing and Pattern Recognition*. San Diego (CA): Academic Press.
27. Basser PJ, Mattiello J, LeBihan D. 1994. MR diffusion tensor spectroscopy and imaging. *Biophys J*. 66(1):259–267.
28. Tuch DS. 2004. Q-ball imaging. *Magn Reson Med*. 52(6):1358–1372.
29. Tuzel O, Porikli F, Meer P. 2006. Region covariance: a fast descriptor for detection and classification. In: *Proceedings of the 9th European Conference on Computer Vision (ECCV 2006)*; 2006 May 7–13; Graz, Austria. Berlin (Germany): Springer. p. 589–600.

Acknowledgments

This manuscript was reviewed and edited for grammar, clarity, and style using OpenAI's ChatGPT language model. Perplexity AI was used to check references. The MATLAB Copilot AI model was used to suggest different image processing approaches to the author. The author thanks Dr. Thierry Pauwels of the Royal Observatory of Belgium for providing experimental data collected during the 2019 solar eclipse in South America for use in this research.